CARTE D'AERODROME -OACI-

30°56 '14" N
006°54' 22" W

AD ELEV 1153 m

TWR 118.100
APP 119.300

OUARZAZATE

ALTITUDES ET DIMENSIONS EN METRES
RELEVEMENTS MAGNETIQUES

RWY	DIRECTION	THR	FORCES PORTANTES
12	118°	30°56'43"N 006°55'25"W	BITUME PCR 720/ F/B/X/T
30	298°	30°55'59"N 006°53'44"W	

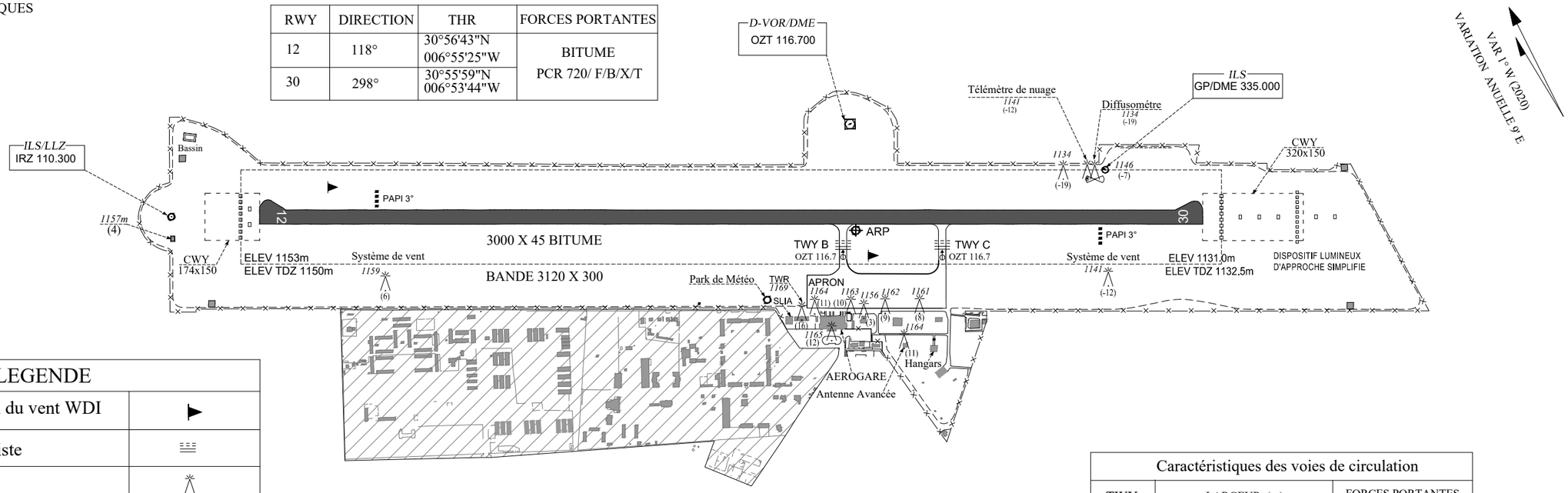

LEGENDE	
Indicateur de direction du vent WDI	
Point d'attente avant piste	
Obstacle	
Mur de clôture	
Feux des voies de circulation	
Chemin de ronde	
Bâtiment	
Zone militaire	
Portée visuelle de piste (RVR)	
Point de vérification VOR	

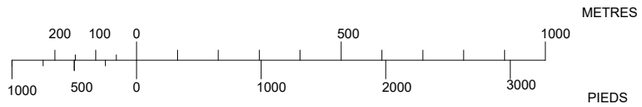

Caractéristiques des voies de circulation		
TWY	LARGEUR (m)	FORCES PORTANTES
TWY B	23	PCR 750/F/B/X/T
TWY C	23	PCR 710/F/B/X/T

MARQUES RWY 12/30 ET SORTIES DE PISTE

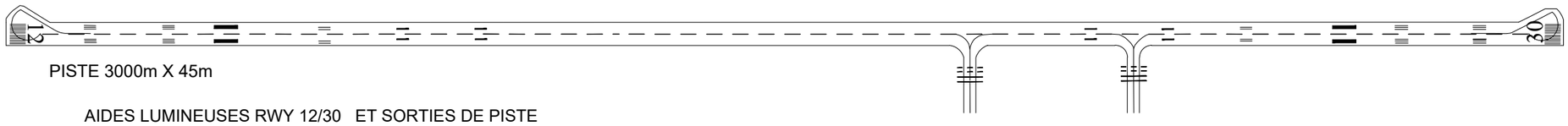

PISTE 3000m X 45m

AIDES LUMINEUSES RWY 12/30 ET SORTIES DE PISTE

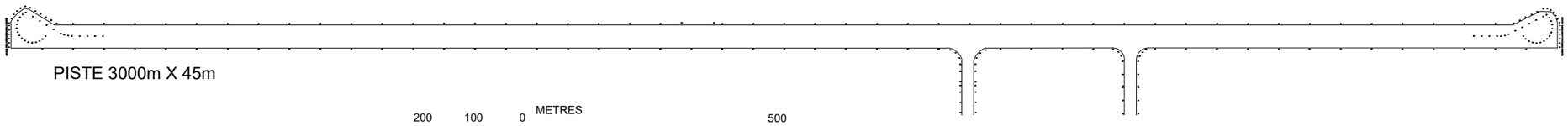
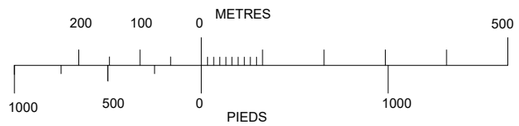
PISTE 3000m X 45m